Supporting Information for

Beyond Stoves and Outdoor Monitors: Indoor PM2.5 Exposure and Inequality in a Fast Growing Megacity

Sun, Sorin, Suryadarma, Rahut and Resosudarmo

Sorin
E-mail: jsorin@uchicago.edu

This PDF file includes:

Supporting text
Figs. S1 to S7
Tables S1 to S6
SI References

Supporting Information Text

Survey Instruments

Baseline Survey Instruments. Study participants were asked the following survey questions during a baseline survey, before the installation of the air quality monitoring hardware.* Bahasa Indonesian translations are in parentheses.

1. What was your household's total income in the past month (in IDR)? This includes cash transfers from the government (*Berapa penghasilan rumah tangga dalam sebulan terakhir? (dalam Rupiah)*)
   (a) <Rp 1.000.000
   (b) Rp 1.000.000 - Rp 2.999.999
   (c) Rp 3.000.000 - Rp 4.999.999
   (d) Rp 5.000.000-Rp 7.999.999
   (e) Rp 8.000.000 - Rp 9.999.999
   (f) Rp 10.000.000 - Rp12.999.999
   (g) >13.000.000
   (h) Does not know (*Tidak tahu*)
   (i) Refuse to answer (*Menolak menjawab*)
2. How many rooms does this residence have? (*Berapa banyak kamar yang dimiliki hunian ini?*)
   [Enumerator: Count spaces as separate rooms only if they have a formal entrance, even if the door is a curtain. Do not count one room divided by curtains without a formal entrance as separate rooms. Family-owned shops attached to the residence and bathrooms should count as rooms.]
   (*[Enumerator: ruangan dianggap terpisah jika ada tempat masuk, meskipun pintunya adalah kain. Jika tidak ada tempat masuk, meski terpisah oleh kain/gorden, jangan dihitung sebagai ruangan terpisah. Toko yang bersatu dengan rumah, kamar mandi, dihitung sebagai satu ruangan terpisah.]*)
3. In the past 7 days, how do you think air quality was in your home, on the scale we mentioned earlier? (*Dalam seminggu terakhir, berdasarkan skala yang sudah saya sebutkan tadi, menurut Ibu/Bapak seberapa baik kualitas udara di Jakarta?*)
   (a) Good (green) (*Baik (hijau)*)
   (b) Moderate (yellow) (*Sedang (kuning)*)
   (c) Unhealthy for sensitive groups (orange) (*Tidak sehat untuk kelompok rentan (oranye)*)
   (d) Unhealthy (red) (*Tidak sehat (merah)*)
   (e) Very unhealthy (purple) (*Sangat tidak sehat (ungu)*)
   (f) Hazardous (Brown) (*Berbahaya (coklat)*)
   (g) Doesn't know (*Tidak tahu*)
4. Is there an air conditioner in the house? (*Apakah terdapat AC/pendingin udara di dalam rumah?*)
   (a) No (*Tidak*)
   (b) Yes, in room the hardware is in (*Ya, di ruangan yang terdapat air purifier dan air monitor*)
   (c) Yes, in another room in the house (*Ya, di ruangan lain*)
5. In the past 7 days, how many times did you see trash being burned in your neighborhood? (*Dalam seminggu terakhir, berapa kali Ibu/Bapak melihat sampah dibakar di lingkungan Ibu/Bapak?*)
   (a) Never (*Tidak pernah*)
   (b) 1 or 2 times (*1-2 kali*)
   (c) 3 or more times (*3 kali atau lebih*)
   (d) Does not know (*Tidak tahu*)
   (e) Refuse to answer (*Menolak menjawab*)
6. What is the main cooking fuel you use in your home? (*Apa bahan bakar utama untuk memasak yang Ibu/Bapak gunakan di rumah?*)
   (a) Electric (*Kompor listrik*)
   (b) Gas/LPG (*LPG*)
   (c) Kerosene (*Minyak tanah*)
   (d) Charcoal/briquettes/coconut shells (*Arang/briket/batok kelapa*)
   (e) Firewood (*Kayu bakar*)
   (f) Other (*Lainnya*)

*These questions were part of a longer survey.

7. I have a list of activities that could cause air pollution in the room the hardware is set up in. Can you verify if any of the following occur in the room of the purifier? (*Saya memiliki daftar aktivitas yang dapat menyebabkan polusi udara di ruangan tempat alat dipasang. Bisakah Ibu/Bapak memberitahu apakah terdapat aktivitas berikut yang terjadi di ruangan yang terdapat air purifier?*)
   (a) Gaps in doors and windows (*Celah di pintu dan udara*)
   (b) Doors/windows are always open (*Pintu/jendela yang selalu terbuka*)
   (c) Close to kitchen (*Dekat dengan dapur*)
   (d) Smoking/vaping in or near the room (*Merokok/vaping di dalam/dekat ruangan*)
   (e) Whether the room has doors and is connected to another room (*Ruangan memiliki pintu yang terhubung dengan ruangan lain*)
   (f) Garbage burning in the neighborhood (*Pembakaran sampah di lingkungan sekitar*)
   (g) Candles/Incense (*Difuser/Pelembab udara/humidifier*)
   (h) None

Endline Survey Instruments. Study participants were asked the following survey questions during an endline survey, after the air quality monitoring hardware had been installed for two to three months.[†] Bahasa Indonesian translations are in parentheses.

1. In the last 24 hours, did someone smoke inside your home? (*Dalam 24 jam terakhir, apakah seseorang merokok di dalam rumah Anda?*)
   (a) Yes (*Ya*)
   (b) No (*Tidak*)
   (c) Does not know (*Tidak tahu*)
   (d) Refuse to answer (*Menolak menjawab*)

Whatsapp Survey. Study participants were also asked high frequency questions via Whatsapp during the course of the study. In particular, they were asked about their window/door opening activities:

1. In the last hour, was the door to the room where the air quality equipment is stored open to the outside? (*Dalam 1 jam terakhir, apakah pintu di ruangan tempat menyimpan alat kualitas udara terbuka ke luar? (jika ada pintu yang terbuka ke luar ruangan)*)
   (a) Yes (*Ya*)
   (b) No (*Tidak*)
   (c) There are no outside doors (*Tiada pintu ke luar*)
2. In the last hour, was the window in the room where the air quality equipment is stored open to the outside? (*Dalam 1 jam terakhir, apakah jendela di ruangan tempat menyimpan alat kualitas udara terbuka ke luar? (jika ada jendela yang terbuka ke luar ruangan)*)
   (a) Yes (*Ya*)
   (b) No (*Tidak*)
   (c) There are no outside windows (*Tak ada jendela luar*)

[†] These questions were part of a longer survey.

Envelope Tightening: Back of the Envelope.

Following (1), in steady-state, indoor $PM_{2.5}$ concentrations C_{in} can be expressed as a function of outdoor $PM_{2.5}$ concentrations C_{out}, the air exchange rate due to infiltration a, the penetration factor P, the particle deposition rate k and the indoor-source strength by volume S:

$$C_{in} = \frac{aPC_{out} + S}{a + k}.$$

The coefficient β estimated in Equation [1] can be shown to correspond to the infiltration factor $F_{inf} = \frac{aP}{a+k}$.

This simple model can be leveraged in a simple back of the envelope calculation to assess the impact of weatherization interventions (targeting a) or changes in ventilation behaviors (targeting P) on indoor $PM_{2.5}$ concentrations. Table S1 lists the data inputs and external parameters used as well as the main results, split by income and smoking status.

The back of the envelope exercise suggests that while changes in ventilation (targeting P) would mechanically decrease indoor $PM_{2.5}$ concentrations in all households-under the convention that P only targets outdoor-to-indoor air flows-, weatherization (targeting a) may only decrease indoor $PM_{2.5}$ concentrations in non-smoking, high-income households. Precisely quantifying the impact of these changes in a and P on indoor $PM_{2.5}$ concentrations would require to take a stand on the specific values of a and P, which is beyond the scope of this paper.

Table S1. Back-of-envelope calculations of the effect of weatherization (targeting a) and ventilation behavior changes (targeting P) on indoor $PM_{2.5}$ concentrations.

Panel A. Data inputs and derived parameters

	C_{in} (μg m^{-3})	C_{out} (μg m^{-3})	$\hat{F}_{inf}$	a (h^{-1})	S (μg m^{-3} h^{-1})
Income Bin 1, Non-smoking	48.9	39.6	0.777	1.7	40.7
Income Bin 1, Smoking	57.2	40.2	0.777	1.7	58.4
Income Bin 4, Non-smoking	28.1	39.6	0.514	0.5	8.0
Income Bin 4, Smoking	36.8	38.3	0.514	0.5	17.6

Panel B. Counterfactual ΔC_{in} (μg m^{-3})

	Weatherization ($a \times 0.8$)		Ventilation ($P \times 0.5$)	
	Central	Robust. range[(a)]	Central	Direction
Income Bin 1, Non-smoking	+1.7	[−17.6, +16.0]†	−15.4	Always ↓
Income Bin 1, Smoking	+3.1	[−24.5, +23.6]†	−15.6	Always ↓
Income Bin 4, Non-smoking	−1.3	[−9.1, +4.4]	−10.2	Always ↓
Income Bin 4, Smoking	−0.2	[−17.3, +12.5]	−9.8	Always ↓

LMG R^2 Decomposition. To complement the mean contribution decomposition in the main text, we decompose the R^2 of Equation 1 across predictors using the Lindeman-Merenda-Gold (LMG) method (2). In multiple regressions, the contribution of a predictor to explained variance depends on which other predictors are already in the model, rendering simple sequential decompositions sensitive to arbitrary ordering choices. LMG resolves the attribution problem that arises under predictor correlation by averaging each predictor's marginal R^2 contribution over all possible orderings in which predictors could enter the model. This method thus provides a consistent decomposition of explained variance. We implement this using the `relaimpo` package in `R` (3). The ranking of sources by R^2 contribution is consistent with the mean contribution decomposition in the main text: outdoor ambient pollution accounts for the largest share, followed by household smoking and waste burning, with kitchen source, cooking hour, and distance to main road contributing minimally. For pollution spikes, smoking is by far the dominant contributor, while waste burning also contributes substantially.

Table S2. Source Contribution to Mean Indoor $PM_{2.5}$

Source	Reg. Estimate	p.value	Mean Value of Source	Mean Contribution	R2 Contribution
Outdoor Ambient	0.62	0.000	38.77	58%	34%
Smoked (24 Hours)	21.30	0.001	0.37	19%	23%
Waste Burning (1-2/week)	-2.02	0.708	0.21	-1%	
Waste Burning (2+/week)	46.66	0.172	0.11	12%	
Waste Burning					22%
Kitchen source	-0.03	0.996	0.30	0%	0%
Cooking	-2.53	0.459	0.08	0%	0%
Distance to Main Road	0.00	0.703	567.08	5%	0%

Notes: Regression estimates are from Figure 3a, a fixed-effects model of hourly indoor $PM_{2.5}$ on source variables with hour-of-day and week fixed effects; standard errors are clustered at the household and date-hour level. "Reg. Estimate" reports the coefficient on each source. "Mean Value of Source" is the sample mean of the corresponding variable (Figure 3b). "Mean Contribution" is the product of the coefficient and the sample mean, expressed as a share of mean indoor $PM_{2.5}$. "R^2 Contribution" reports the proportional contribution of each source to explained variance using the Lindeman-Merenda-Gold (LMG) decomposition from a linear model with hour and week indicators. The LMG decomposition aggregates across levels of categorical variables (e.g., waste burning frequencies), so a single R^2 contribution is reported for waste burning overall.

Table S3. Source Contribution to Spikes in Indoor $PM_{2.5}$

Source	Reg. Estimate	p.value	Mean Value of Source	Mean Contribution	R2 Contribution
Outdoor Ambient	0.000	0.006	38.77	29%	2%
Smoking Household	0.032	0.000	0.37	56%	54%
Waste Burning (1-2/week)	-0.002	0.635	0.21	-2%	
Waste Burning (2+/week)	0.047	0.161	0.11	24%	
Waste Burning					20%
Kitchen source	-0.006	0.182	0.30	-9%	2%
Cooking	0.008	0.191	0.08	3%	1%
Distance to Main Road	0.000	0.107	567.08	-16%	5%

Notes: Estimates from a fixed-effects regression of a binary spike indicator on source variables, with hour-of-day and week fixed effects; standard errors are clustered at the household and date-hour levels. A spike is defined as an hourly $PM_{2.5}$ reading that exceeds the preceding hour by at least one standard deviation. "Reg. Estimate" reports the coefficient on each source (from Figure S8). "Mean Value of Source" is the sample mean of the corresponding variable. "Mean Contribution" is the product of the coefficient and the sample mean, expressed as a share of mean indoor $PM_{2.5}$. "R^2 Contribution" reports the proportional contribution of each source to explained variance using the Lindeman-Merenda-Gold (LMG) decomposition from a linear model with hour and week indicators. The LMG decomposition aggregates across levels of categorical variables (e.g., waste burning frequencies), so a single R^2 contribution is reported for waste burning overall.

Tables

Table S4. Summary Statistics of Household Survey

Variable	Control Mean	N	Population Mean
Female	0.91	308	
Age	41.01	308	
	(6.82)		
HH Size	5.12	308	3.79
	(1.9)		(1.31)
Number of Children	2.05	307	
	(1.01)		
HH Monthly Exp. (USD)	248.28	308	655.94
	(115.96)		(707.71)
HH Monthly Income (USD)	308.58	308	
	(191.39)		
HH Head Attended Secondary	0.88	308	0.88
HH Head Attended Tertiary	0.13	308	0.3
Owns AC	0.54	292	0.39
	(0.5)		
LPG Stove	0.98	307	0.96
Number of Smokers	0.93	308	0.73
	(0.84)		(0.71)

Notes: Household characteristics and comparisons to the Jakarta population mean. Population means were calculated using data from the National Socioeconomic Survey (SUSENAS) 2023.

Table S5. Distance to Outdoor Sensor Not Correlated with Household Characteristics

Dependent Variable:	Distance to Outdoor Sensor (meters)
Model:	(1)
Variables	
Indoor PM2.5	-1.50
	(2.56)
Outdoor PM2.5	4.02
	(9.02)
Income (USD)	0.11
	(0.60)
Housing Size	28.94
	(53.99)
AC	-112.06
	(200.34)
HOH Employed	342.44
	(386.53)
HOH Attended Secondary School	-294.89
	(308.94)
HOH Attended Tertiary School	-195.83
	(328.31)
Fit statistics	
Dependent variable mean	2,342.4
Observations	292

IID standard-errors in parentheses
*Signif. Codes: ***: 0.01, **: 0.05, *: 0.1*

Notes: Regression of households' distance to nearest outdoor sensor on household covariates. IID standard-errors in parentheses. Signif. Codes: ***: 0.01, **: 0.05, *: 0.1.

Table S6. Association Between Reported Waste Burning and Outdoor $PM_{2.5}$

Dependent Variable:	Outdoor PM2.5	
	Closest 3 Sensors	HH Within 2km of Outdoor Sensor
Model:	(1)	(2)
Variables		
Waste Burning (1-2/week)	0.586	0.272
	(0.755)	(0.757)
Waste Burning (2+/week)	3.83***	5.49***
	(1.04)	(1.94)
Outdoor Temperature	0.329	0.745***
	(0.266)	(0.271)
Outdoor Humidity	-0.206***	-0.198***
	(0.042)	(0.050)
Fixed-effects		
Week FE	Yes	Yes
Hour FE	Yes	Yes
Fit statistics		
Observations	449,568	230,234
R^2	0.35005	0.33996
Within R^2	0.01325	0.02104

Clustered (respondent_id & date_hour) standard-errors in parentheses
*Signif. Codes: ***: 0.01, **: 0.05, *: 0.1*

Notes: Each column regresses outdoor $PM_{2.5}$ on household-reported waste burning frequency in the neighborhood over the preceding 7 days, controlling for outdoor temperature and humidity, with hour-of-day and week fixed effects. Column 1 assigns each household the mean $PM_{2.5}$ reading from the three nearest government sensors. Column 2 restricts the sample to households located within 2 km of an outdoor sensor. Standard errors, clustered at the household and date-hour level, are in parentheses. Clustered (respondent and date-hour FE) standard errors are in parentheses. Signif. Codes: ***: 0.01, **: 0.05, *: 0.1.

Figures

Fig. S1. Missing Indoor $PM_{2.5}$ Data

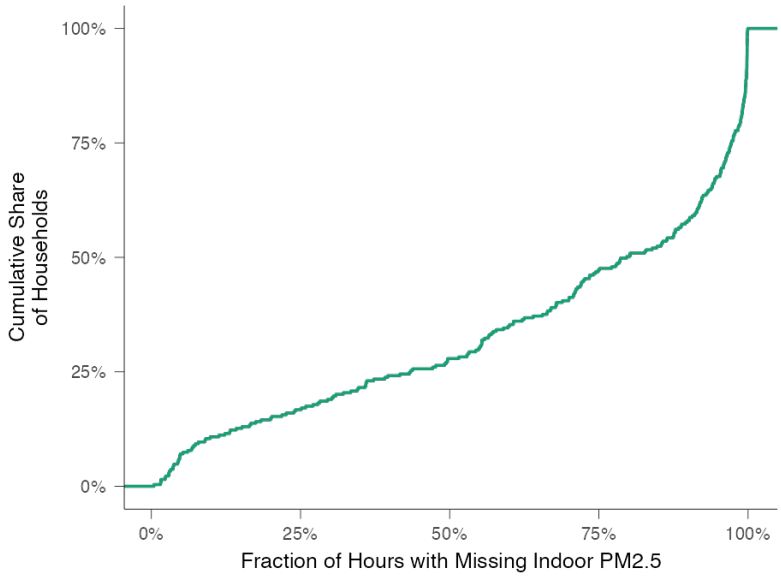

Notes: Empirical cumulative distribution function of missing indoor $PM_{2.5}$ data. Each observation represents a household; the x-axis shows the fraction of that household's hourly $PM_{2.5}$ readings that are missing, and the y-axis shows the cumulative share of households at or below that fraction.

Fig. S2. Infiltration Rate at Varying Distance to Outdoor Sensor

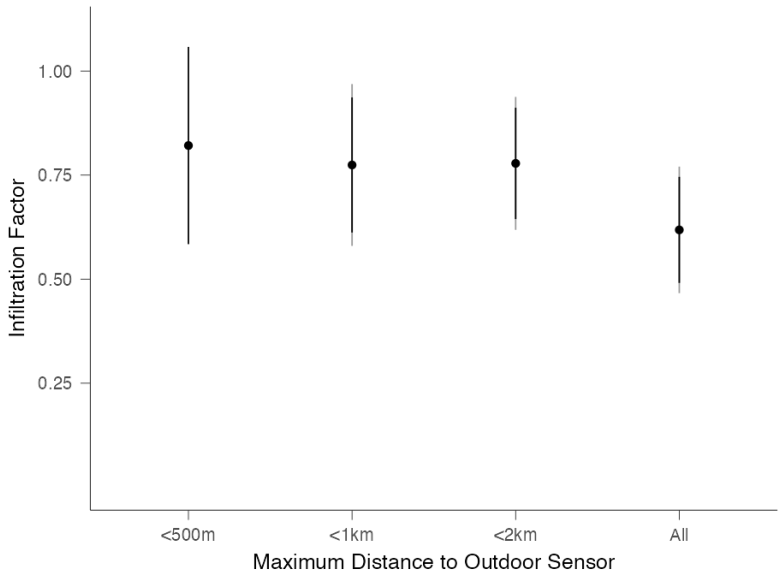

Notes: Each point reports the coefficient on outdoor $PM_{2.5}$ (the infiltration rate) from estimating Equation 1 with hour-of-day and week fixed effects, controlling for hyperlocal source variables, outdoor temperature, and humidity. The sample is progressively restricted to households located within 0.5km, 1km, and 2 km of the nearest outdoor air quality sensor; the rightmost point uses the full sample with no distance restriction. Darker error bars show 90% confidence intervals, and lighter error bars show 95% confidence intervals. Standard errors are clustered at the household and date-hour level.

Fig. S3. Infiltration Rate at With Varying Weights

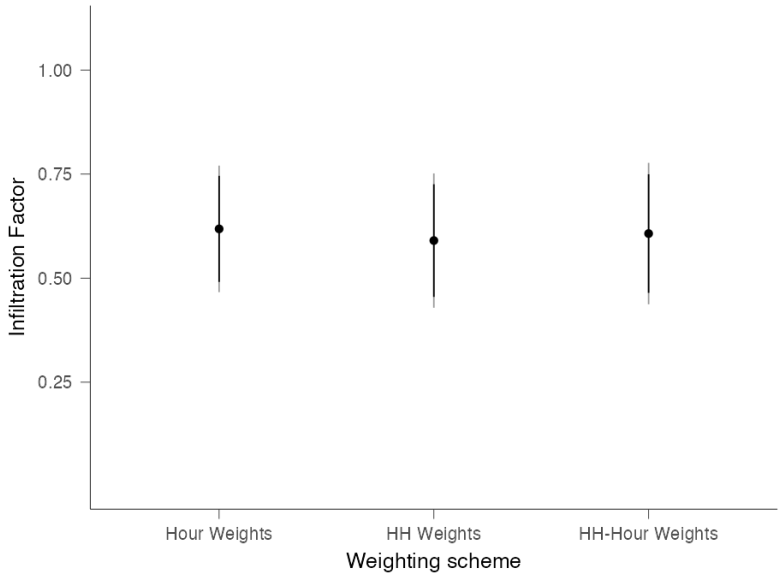

Notes: Each column reports the coefficient on outdoor $PM_{2.5}$ (the infiltration rate) from estimating the main infiltration specification. Column 1 is our main specification, which does not have any weights. This implicitly upweights households with more available data. Column 2 weights by the inverse of the household-specific observation rate, upweighting households with more missing data. Column 3 weights by the inverse of the household-by-hour observation rate, upweighting household-hour cells with more missing data. Observation rates are defined as the fraction of non-missing indoor $PM_{2.5}$ readings within the relevant grouping. Darker error bars show 90% confidence intervals, and lighter error bars show 95% confidence intervals. Standard errors are clustered at the household and date-hour level.

Fig. S4. Infiltration Rate with Lagged Outdoor $PM_{2.5}$

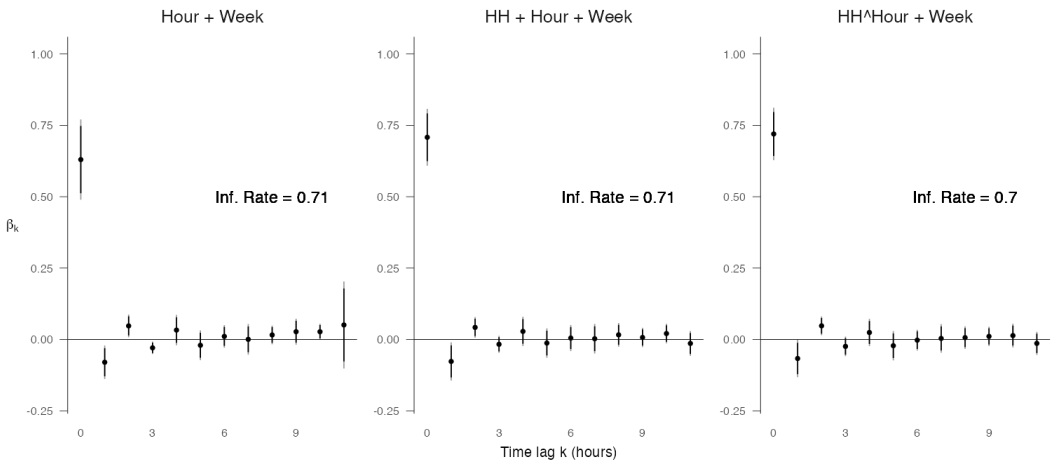

Notes: Infiltration rate, showing the relationship between changes in outdoor concentration and changes in indoor concentrations. This shows the lags in the previous 11 hours. The model controls for hyperlocal source variables (waste burning frequency, household smoking, kitchen source presence, cooking activity, and distance to main road), outdoor temperature, humidity, and hour-of-day and week fixed effects. Points represent mean estimates; darker error bars show 90% confidence intervals, and lighter error bars show 95% confidence intervals. Errors are clustered at the household level.

Fig. S5. Robustness: Mean $PM_{2.5}$ Under Various Aggregation Methods

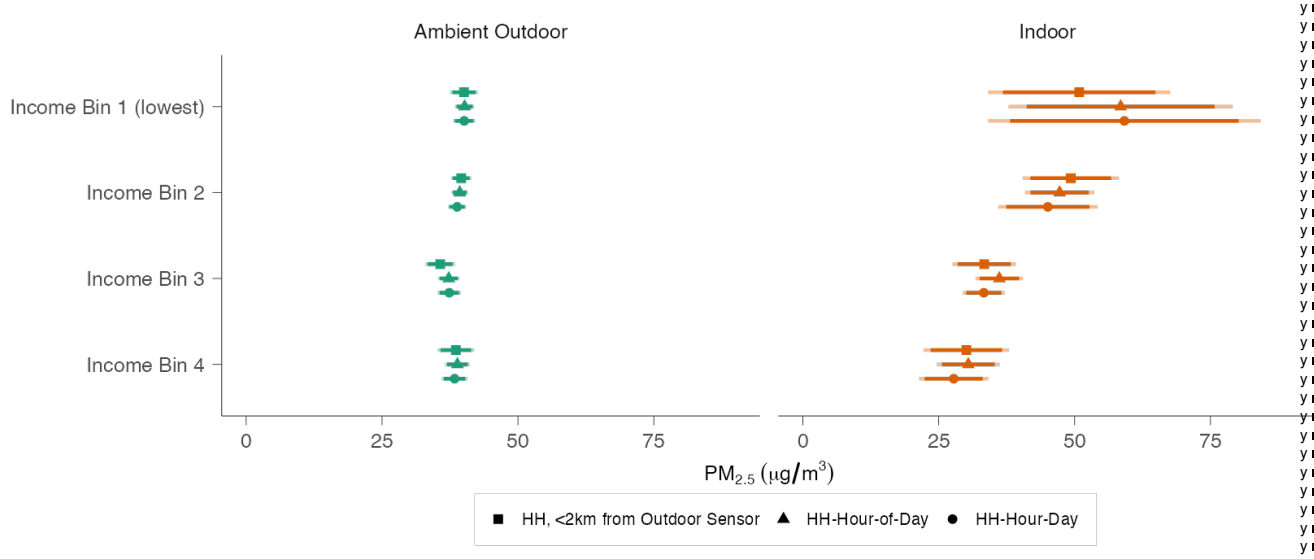

Notes: **(a)** Mean $PM_{2.5}$ concentrations across income quartiles, aggregated using three different methods to show robustness. *HH, $<$ 2km from Outdoor Sensor*, calculates a single mean $PM_{2.5}$ value per household, restricting the sample to households located within 2 km of an outdoor sensor to ensure proximity-based comparability. *HH-Hour-of-Day*, aggregates data by computing the mean $PM_{2.5}$ concentration for each household at each hour of the day. *HH-Hour-Day* uses mean $PM_{2.5}$ concentrations at the level of each household-hour-date. These mean $PM_{2.5}$ is then regressed onto the income quartile. Points represent mean estimates; darker error bars show 90% confidence intervals, and lighter error bars show 95% confidence intervals. Errors are clustered at the household level.

Fig. S6. CDF of household distance to roads

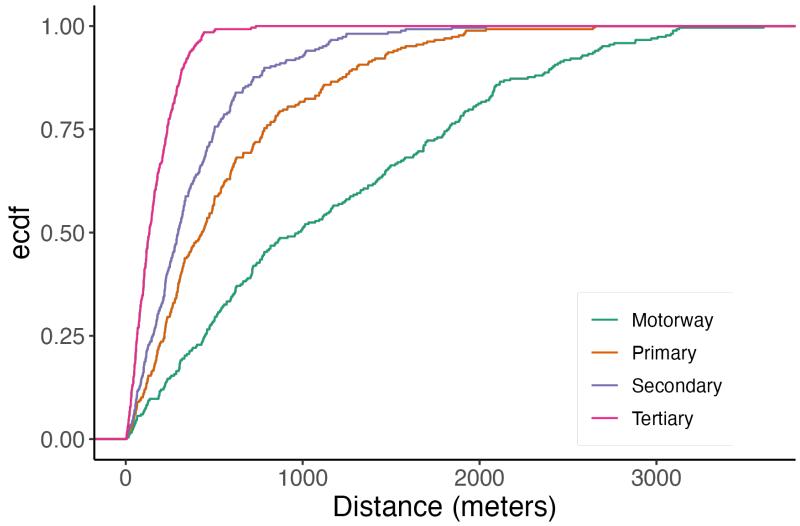

Notes: This figure shows the cumulative distribution of each household's distance to the nearest road, by road type. Motorways are limited-access highways or toll roads, primary roads are major arterial roads connecting districts and cities, secondary roads are collector roads connecting neighborhoods, and tertiary roads are local residential streets.

Fig. S7. Source Contributions to $PM_{2.5}$ Spikes

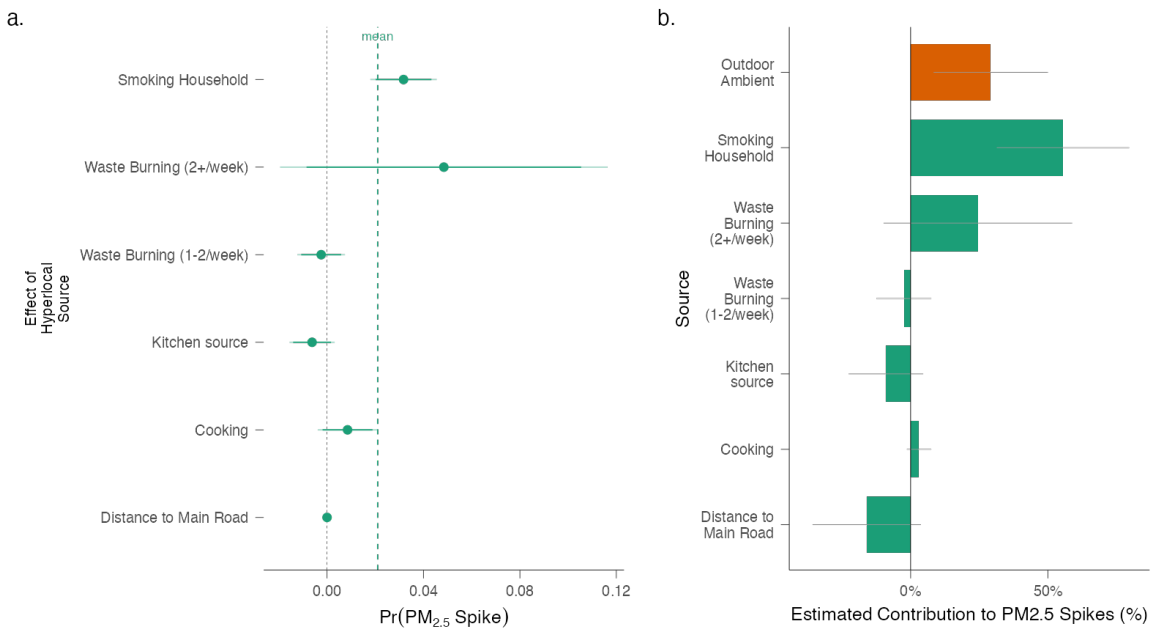

Notes: Analogous to Figure 3 but with $PM_{2.5}$ spikes as the outcome variable. Spikes are defined as hours in which the hour-to-hour change in indoor $PM_{2.5}$ exceeds one standard deviation of the overall indoor $PM_{2.5}$ distribution. (a) Coefficient estimates from estimating Equation 1 with the spike indicator as the dependent variable. The dashed green line indicates the sample mean spike probability. (b) Estimated mean contribution of each source to $PM_{2.5}$ spikes, calculated by multiplying each regression coefficient by the sample mean of its corresponding variable and expressing the product as a share of the mean spike probability. Error bars reflect 95% confidence intervals, computed by scaling the upper and lower bounds of each coefficient's confidence interval by the corresponding sample mean. Standard errors are clustered at the household and date-hour level.

References

1. C Chen, B Zhao, Review of relationship between indoor and outdoor particles: I/O ratio, infiltration factor and penetration factor. *Atmospheric Environ.* **45**, 275–288 (2011).
2. RH Lindeman, PF Merenda, RZ Gold, RH Lindemann, PF Merenda, *Introduction to bivariate and multivariate analysis.* (Scott, Foresman and Co, Glenview, Ill), (1980).
3. U Grömping, Relative Importance for Linear Regression in R : The Package **relaimpo**. *J. Stat. Softw.* **17** (2006).